Spectral Feature Recognition

Question: Based on the spectral signature extracted at pixel (0,0) in this block, which standard material does it best match?

Option: (A) Concrete (B) Asphalt (C) Bare Soil (D) Water (E) Grass Healthy (F) Building



Image Input

Report Input

The dataset consists of 32x32 spatial pixels across 224 spectral bands, with each pixel's……

	Image Input	Report Input
InternVL3.5-14B	**B** ✗	**B** ✗

Land Cover Classification

Question: What is the most common non-background land cover type in this block?

Option:

(A) Grass Stressed (B) Trees (C) Residential buildings
(D) Non-residential buildings (E) Grass Healthy (F) Road



Image Input

Report Input

The dataset consists of 32x32 spatial pixels across 224 spectral bands, with each pixel‘s……

	Image Input	Report Input
InternVL3.5-14B	**F** ✔	**E** ✘

Presence Detection

Question: Is this block completely devoid of the 'Grass Healthy' land cover type?

Option:

(A) Yes (B) No



Image Input

Report Input

The dataset consists of 32x32 spatial pixels across 224 spectral bands, with each pixel‘s……

	Image Input	Report Input
InternVL3.5-14B	**F** ✓	**E** ✗

Counting

Question: What percentage of this block is occupied by Asphalt?

Option:

(A) 0-2% (B) 2-5% (C)5-10%
(D)10-20% (E)20-30% (F)More Than 30%



Image Input

Report Input

The dataset consists of 32x32 spatial pixels across 224 spectral bands, with each pixel's……

	Image Input	Report Input
InternVL3.5-14B	**A** ✗	**A** ✗

Object Location Relationship

Question: In this block, where is the 'Grass Stressed' area located in relation to the 'Water' area?

Option: (A) Above (B) Below (C) Left (D)Right
(E) Upper Left (F) Lower Left
(G) Upper Right (H) Lower Right



Image Input

Report Input

The dataset consists of 32x32 spatial pixels across 224 spectral bands, with each pixel‘s……

	Image Input	Report Input
InternVL3.5-14B	**B** ✓	**E** ✗

Region Delineation

Question: Find the most appropriate rectangular angular coordinates that can enclose all the Road in the image. (The upper left corner is xmin, ymin; x is horizontal, y is vertical; both range from 0 to 1)

Option:

(A) [0.000, 0.000, 0.942, 0.991]
(B) [0.000, 0.000, 0.922, 1.000]
(C) [0.000, 0.000, 1.000, 0.999]
(D) [0.000, 0.000, 1.000, 1.000]
(E) [0.000, 0.000, 0.950, 1.000]



Image Input

Report Input

The dataset consists of 32x32 spatial pixels across 224 spectral bands, with each pixel‘s……

	Image Input	Report Input
InternVL3.5-14B	**D** ✔	**C** ✘

Spectral Anomaly Detection

Question: What type of spectral anomaly is detected in this block? (Excluding normal land cover variations)

Option:

(A) Excessively high reflectance in NIR band
(B) Abnormally low reflectance in red band
(C) Fluctuating reflectance in SWIR band
(D) Discontinuous spectral curve
(E) Mismatched spectral features with known land covers
(F) No spectral anomaly
(G) Multiple anomalies



Image Input

Report Input

The dataset consists of 32x32 spatial pixels across 224 spectral bands, with each pixel's……

	Image Input	Report Input
InternVL3.5-14B	**E** ✓	**E** ✓

Spectral Unmixing

Question: Based on spectral unmixing, what is the estimated percentage of built-up area in the block?

Option:

(A) 20% (B) 25% (C)30%

(D)35% (E)40% (F)45



Image Input

Report Input

The dataset consists of 32x32 spatial pixels across 224 spectral bands, with each pixel‘s……

	Image Input	Report Input
InternVL3.5-14B	**F** ✗	**A** ✗

Vegetation Health/StressDiagnosis

Question: Based on the ratio of healthy to stressed grass in the block, what is the overall vegetation health diagnosis?

Option:

(A) Mainly Healthy (B) Mainly Stressed

(C) Completely Dead (D) No Vegetation



Image Input

Report Input

The dataset consists of 32x32 spatial pixels across 224 spectral bands, with each pixel‘s……

	Image Input	Report Input
InternVL3.5-14B	**A** ✗	**B** ✓

Environmental Pollution Severity Assessment

Question: Evaluating the proportion of stressed vegetation and bare soil in the block, what is the environmental assessment rating?

Option: (A) Severe Degradation (B) Moderate Degradation (C) Healthy/Good



Image Input

Report Input

The dataset consists of 32x32 spatial pixels across 224 spectral bands, with each pixel's……

	Image Input	Report Input
InternVL3.5-14B	**A** ✓	**A** ✓

Basic Change Identification

Question: At pixel (1, 28), what specific land cover transition occurred from block 2013 to 2015?

Option:

(A) From Concrete to Asphalt
(B) From Grass Healthy to Concrete
(C) From Grass Stressed to Water
(D) From Asphalt to Concrete



Image Input

The dataset consists of 32x32 spatial pixels across 224 spectral bands, with each pixel's……

Report Input

The dataset consists of 32x32 spatial pixels across 224 spectral bands, with each pixel's……

	Image Input	Report Input
InternVL3.5-14B	**B** ✗	**C** ✗

Change Area Localization

Question: Dividing the image into a 3x3 grid, which sector contains the highest number of changed pixels from block 2013 to 2015?

Option:

(A) Top-Left (B) Top (C) Top-Right (D) Left (E) Center
(F) Right (G) Bottom-Left (H) Bottom (I) Bottom-Right

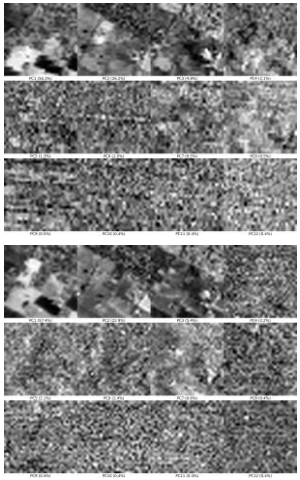

Image Input

The dataset consists of 32x32 spatial pixels across 224 spectral bands, with each pixel's……

Report Input

The dataset consists of 32x32 spatial pixels across 224 spectral bands, with each pixel's……

	Image Input	Report Input
InternVL3.5-14B	**A** ✗	**E** ✗

Change Statistical Analysis

Question: How did the area of artificial surfaces (Asphalt + Concrete) change from 2013 to 2014 in this block?

Option:

(A) Significant increased (B) Slight increased (C) Stable
(D) Slight decreased (E) Significant decreased
(F) No vegetation in both years



Image Input

The dataset consists of 32x32 spatial pixels across 224 spectral bands, with each pixel's……

Report Input

The dataset consists of 32x32 spatial pixels across 224 spectral bands, with each pixel's……

	Image Input	Report Input
InternVL3.5-14B	**B** ✗	**C** ✗